HOME PAGE : HERO SECTION





HOME PAGE :BELOW HERO SECTION

5+
Years Experience

500+
Projects Completed

12+
Industries Served

Aerial Solutions Tailored for You

From centimeter-accurate maps to AI-powered thermal inspections, we deliver actionable data faster and safer.

Aerial Mapping

High-accuracy orthomosaics & 3D terrain models for construction, mining, and land development.

Learn more →

Inspection & Monitoring

Non-invasive checks for critical infrastructure — towers, pipelines, solar farms.

Learn more →

Agriculture & Crop Health

Multispectral & thermal imaging for precision farming, irrigation, and yield estimation.

Learn more →

View All Services

Ready to elevate your operations?

Partner with SkyArc Technologies to unlock the power of aerial intelligence.

Contact Us Today

SkyArc

Aerial intelligence and drone services combining precision hardware, AI analytics, and regulatory compliance.

Quick Links

- Home
- Our Services
- About Us
- Careers & Opportunities

Key Services

- Aerial Mapping
- Industrial Inspection
- Precision Agriculture
- Defense Surveillance

Contact Us

[illegible]

© 2026 SkyArc Technologies LLP. All rights reserved.

Privacy Policy · Terms of Service

ABOUT US PAGE:HERO SECTION

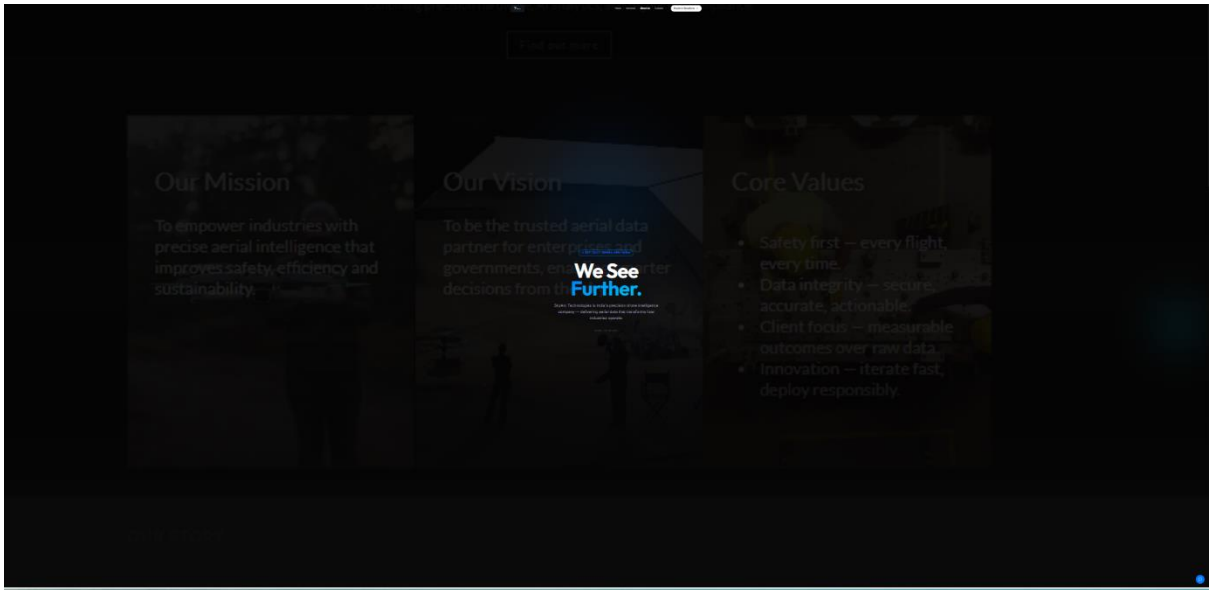

ABOUT US :PART 1

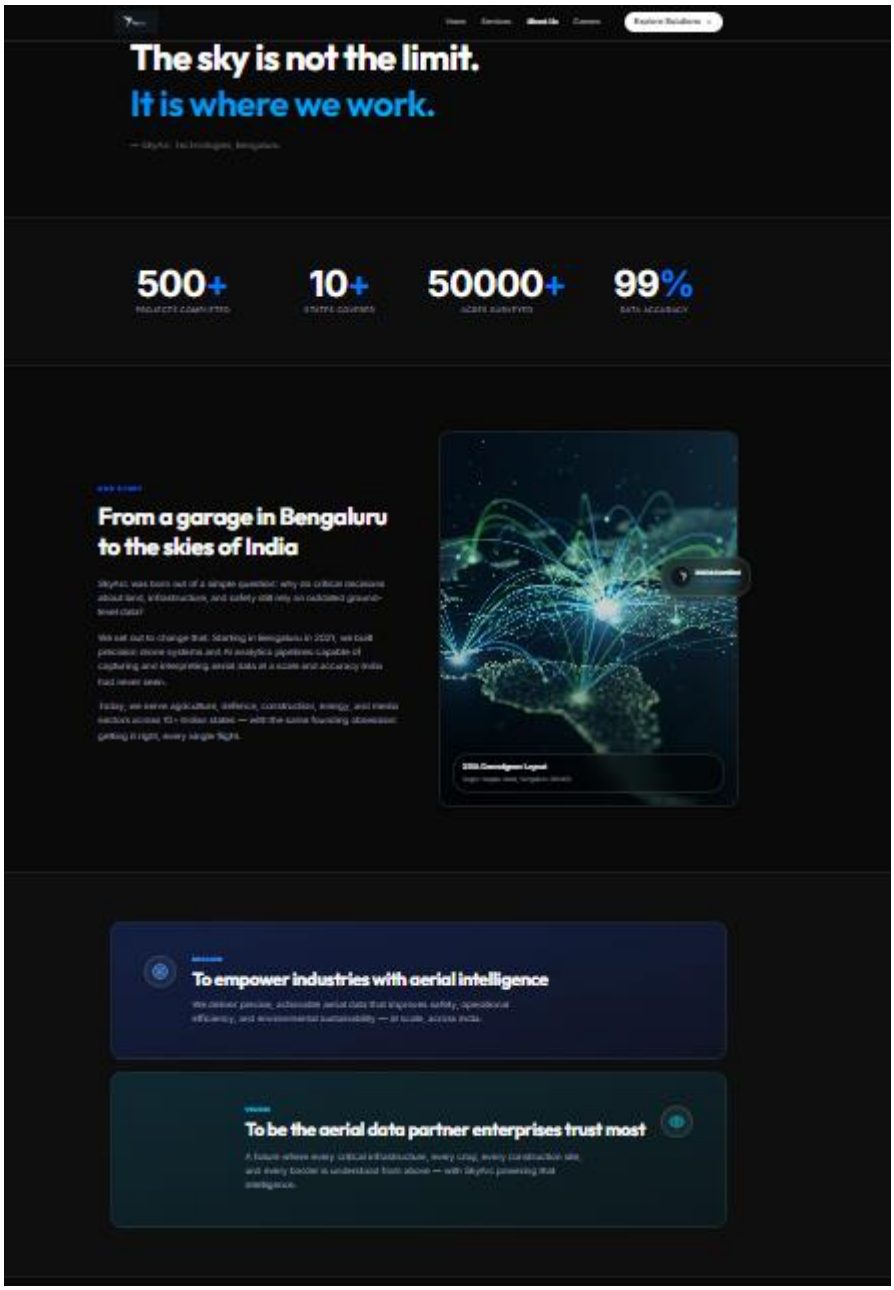

ABOUT US :PART 2

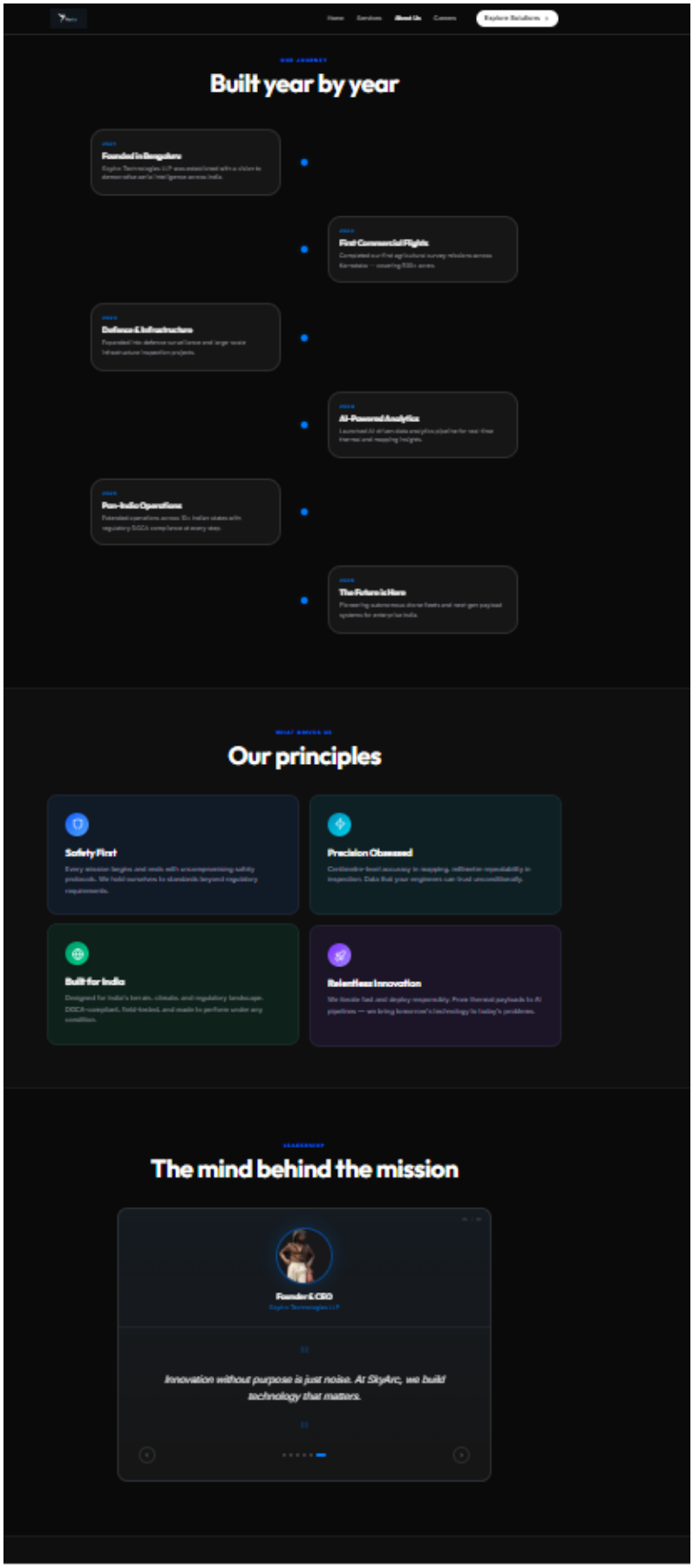

ABOUT US PAGE:PART3

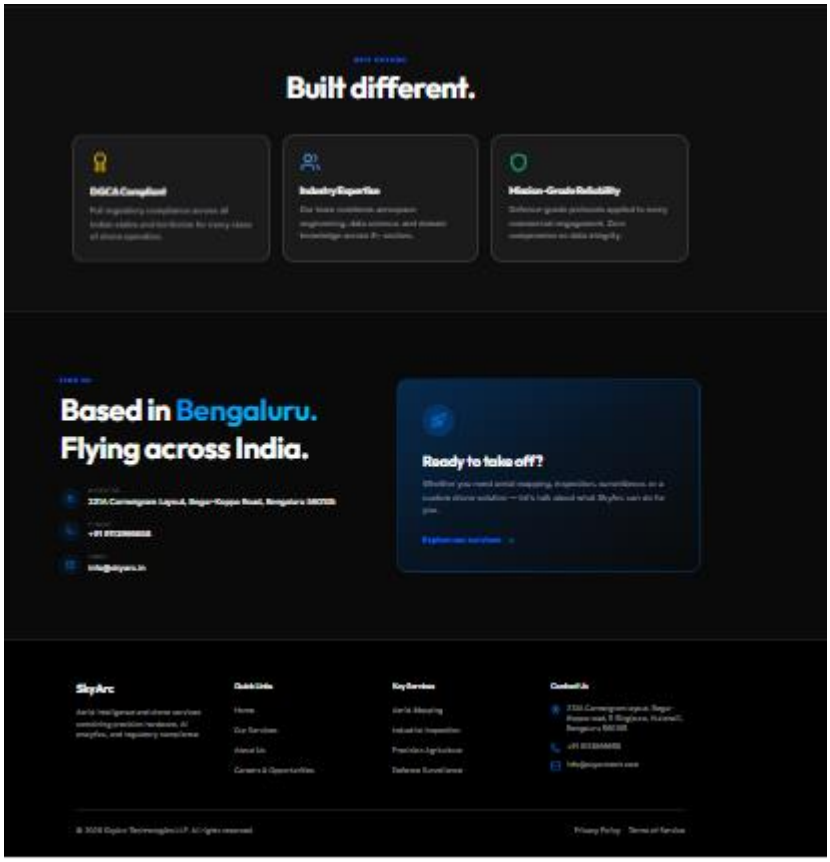

SERVICES PAGE:PART1

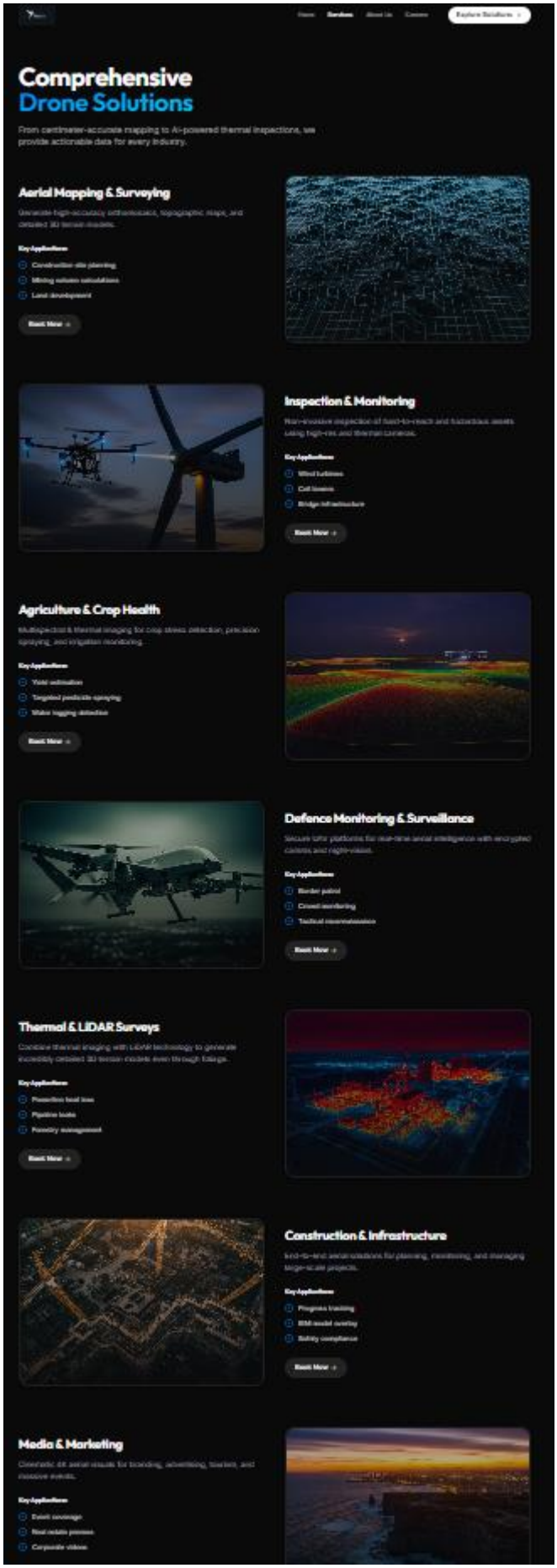

SERVICES PAGE:PART 2

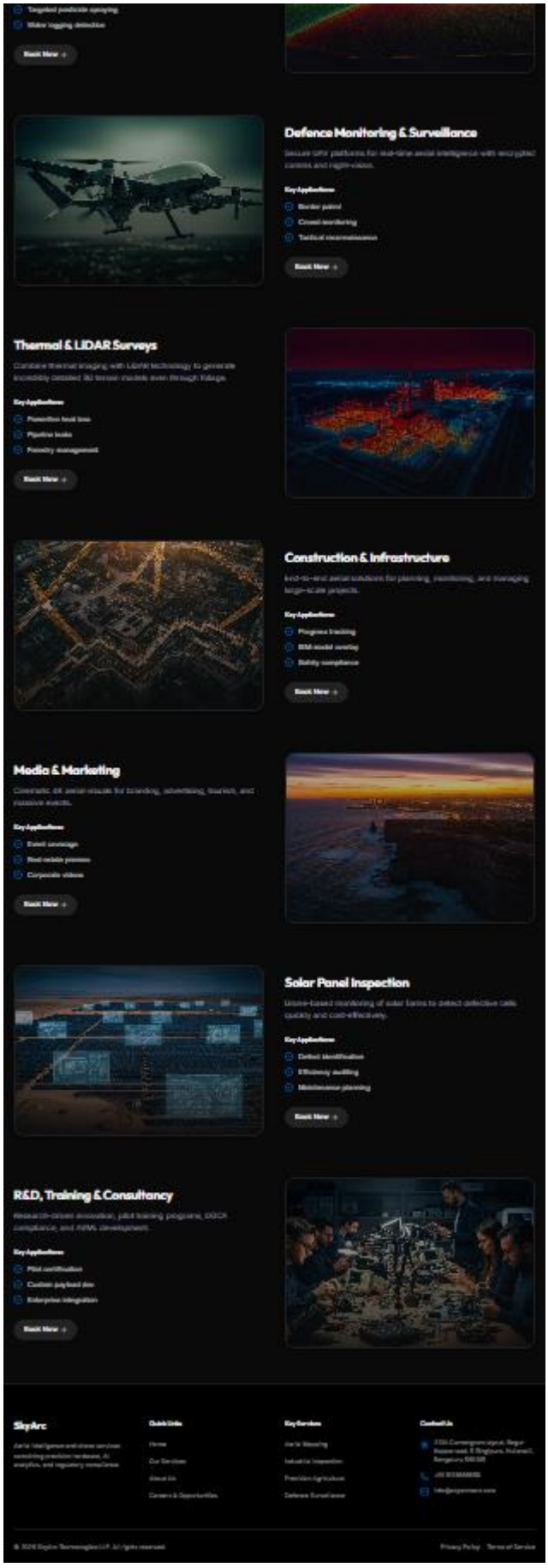
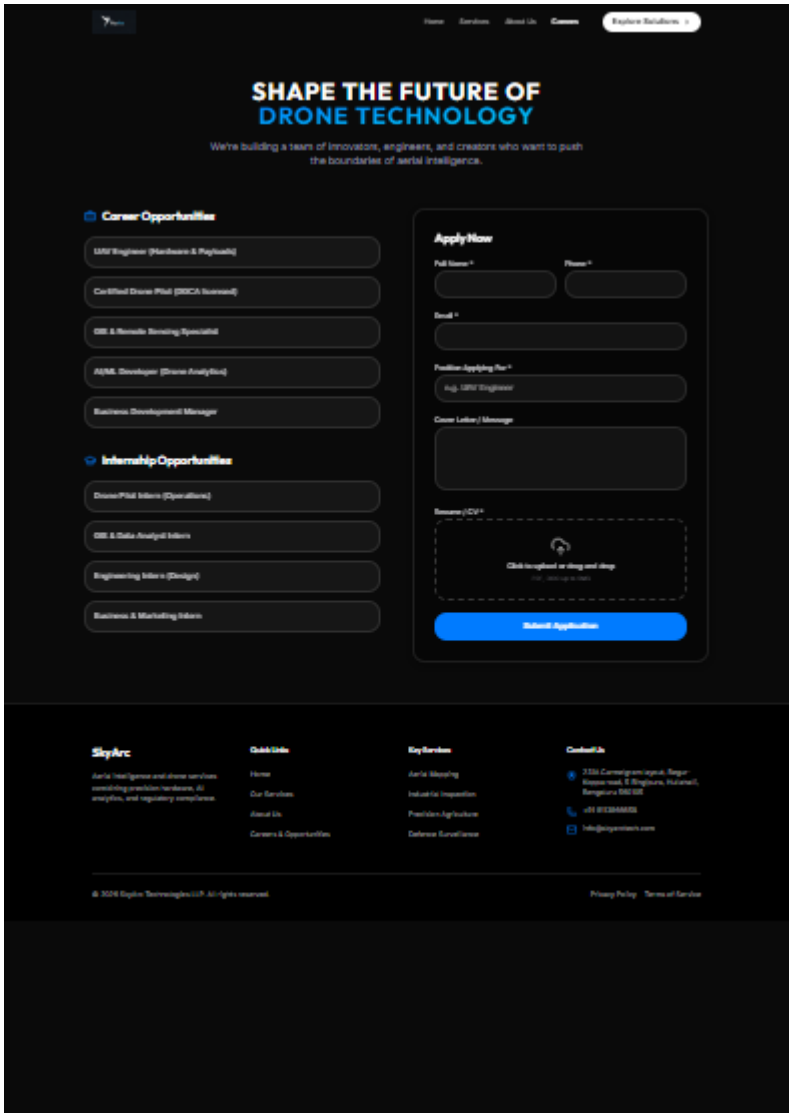
CAREERS AND OPPRUNITIES